Solar Power Plant Project

Velika Kopanica

Croatia

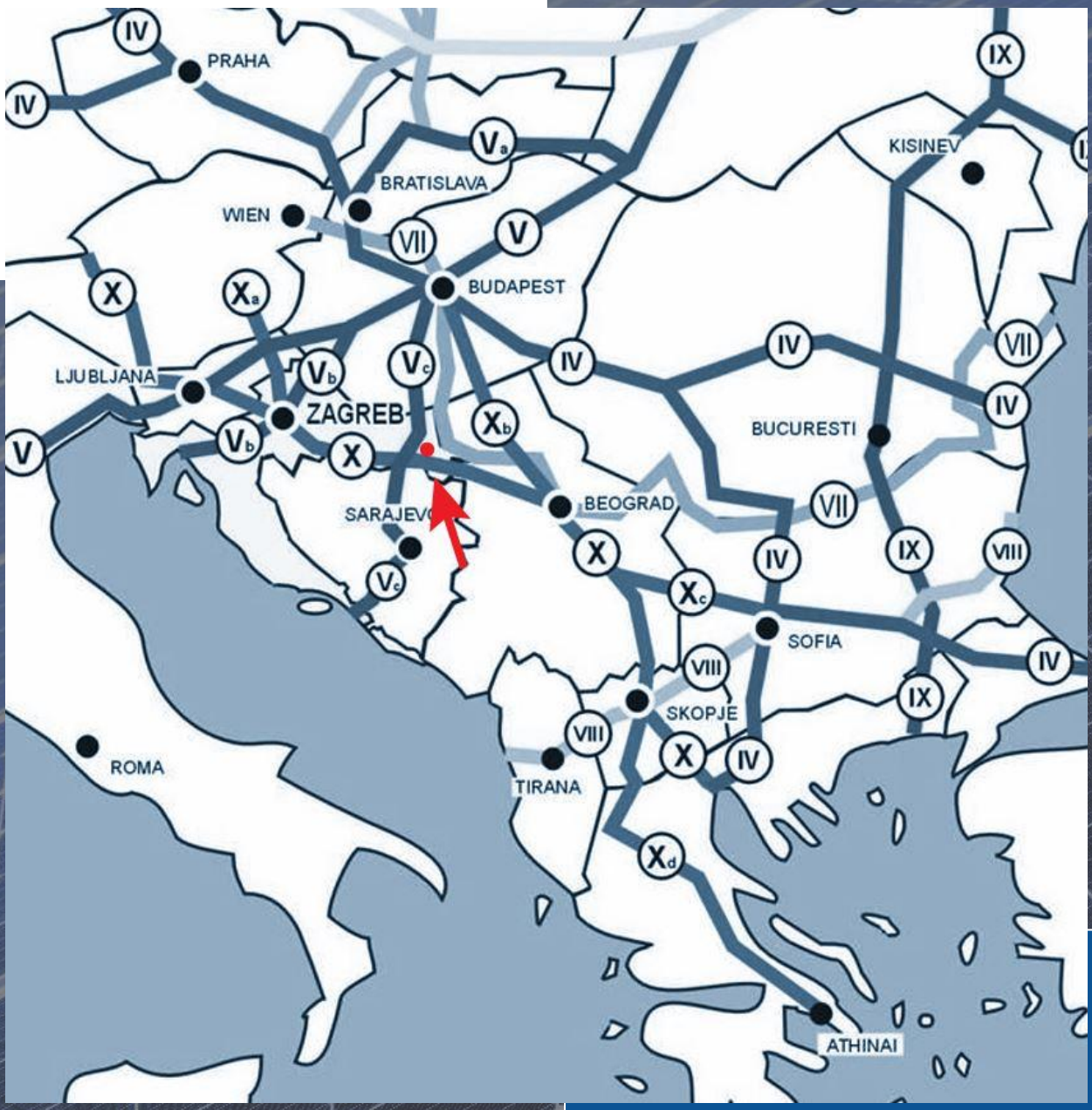

Preliminary design phase - 2023
Ready to build - 1H 2024
Construction - 2024

POSITION IN RESPECT TO TRANSPORTATION NETWORK

The location of the project is extremely attractive in relation to the complete infrastructure environment, as it is located close to the exit of the highway A3 Zagreb - Lipovac on the pan-European corridor X (junction Velika Kopanica), with access to the location via the state road D7, not far from motorway and railway international pan-European corridor Vc, which passes along the eastern edge of the zone, and runs from Budapest, Hungary via Osijek, Croatia to Sarajevo, BiH and ends in Ploče, Croatia (Adriatic sea port).

`

BASIC PROJECT INFORMATION

Fully owned land
Preliminary design phase

Power: 70 MW
Land area: 73 Ha

Ready to build - 1H 2024
Construction 2024

PROJECT SPONSOR

Ivan Paladina

Developer & Investor

Former Minister of Construction, Spatial planning and state assets of Republic of Croatia

Former President of the board of leading engineering company in SEE

POSITION WITH RESPECT TO THE REGION

Apart from the advantage of the Project's position next to the railway station, A3 and A5 motorway exits and the Sava River Port, the location is relatively close to the state borders with BiH (about 11 km), Serbia (about 56 km) and Hungary (about 110 km).

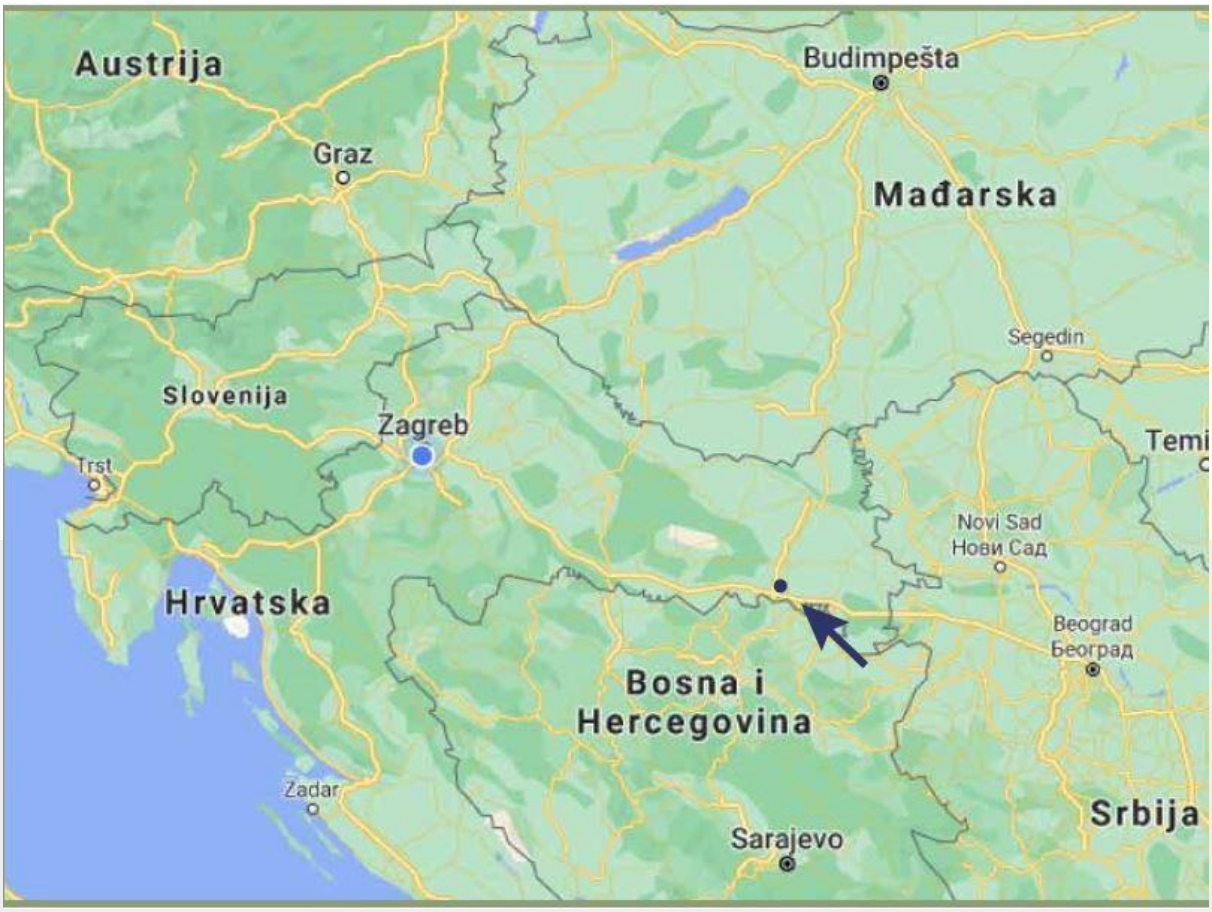

INFRASTRUCTURE FACILITIES OF THE PROJECT

The main high-pressure gas pipeline and high-voltage transmission line are available at the location, which enables the Project to use the cheapest energy source (gas) and ensure required electricity for the entire business zone.

The collection of wastewater would be solved by a central treatment plant with a discharge into the Moštanik and Međašnje Ždrilo canals.

POSITION AND LOCATION OF THE BUSINESS ZONE

The Velika Kopanica Project is located at the intersection of the pan-European transport (road and railway) corridors X and corridors Vc, near the A3 and A5 motorways, and near the Sava River in Brodsko-posavska County, the municipality of Velika Kopanica.

The location of the business zone is defined by:

- north and northwest through the Moštanik and Međašnje Ždrilo canals
- east of the main railway line MP13C (Strizivojna / Vrpolje - Slavonski Šamac - state border) of the transport corridor Vc
- south along the state road D4 (Motorway A3 Zagreb - Lipovac) and pan-European transport corridor X
- west of the state road D7 (Duboševica - Beli Manastir - Osijek - Đakovo - Slavonski Šamac).

- Business Zone Velika Kopanica
- A3 Motorway
- D7 State Road
- MP13C Railway
- Moštanik and Međašnje Ždrilo Canals

Solar Power Plant Project

Velika Kopanica

Croatia

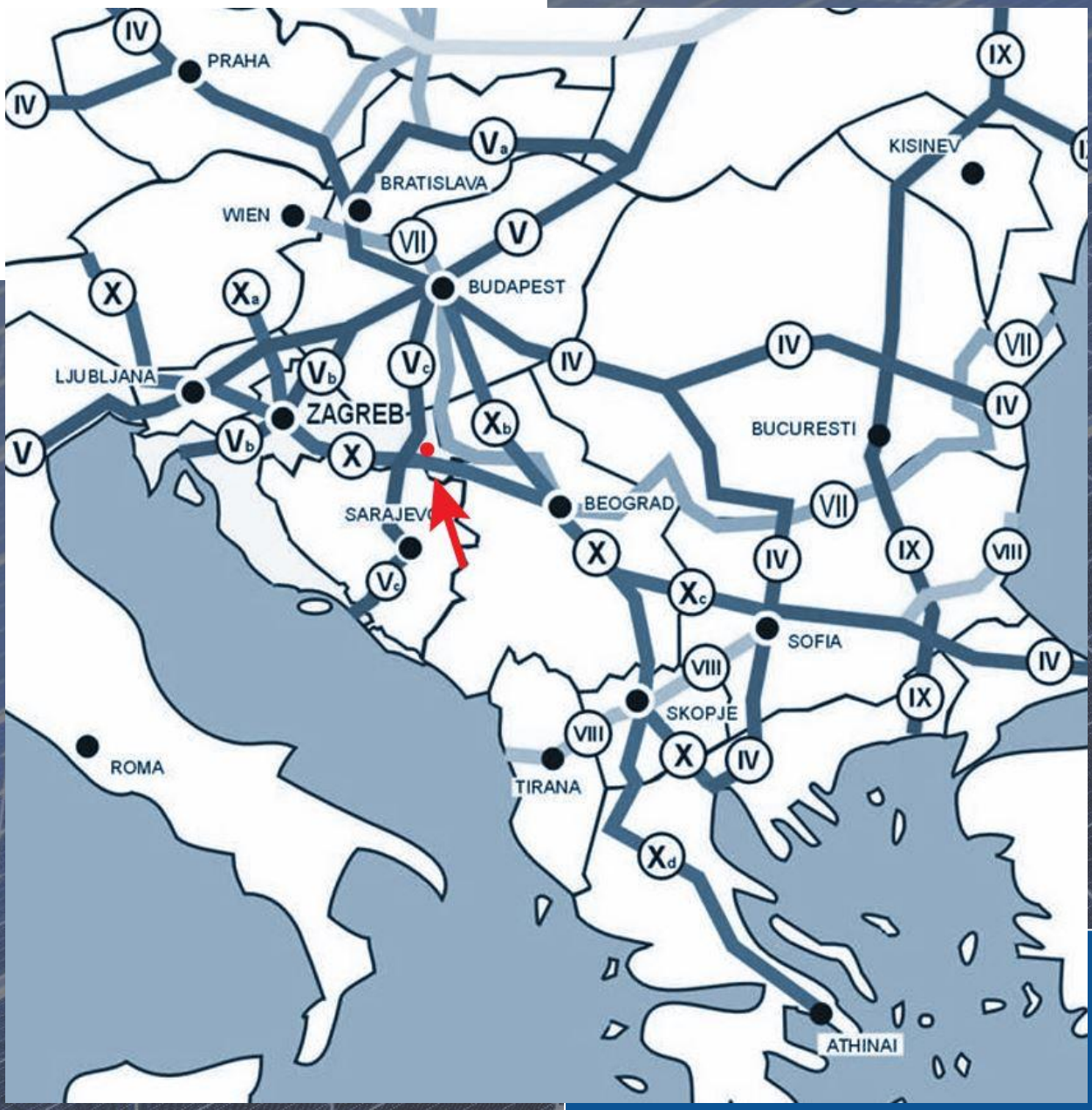

Preliminary design phase - 2023
Ready to build - 1H 2024
Construction - 2024